Drone Attack Simulation Laboratory: Detection and Automated Interception of Hostile UAV Swarms

Senior Simulation Engineering Team 211

March 18, 2026

Abstract

This report details the design, implementation, and evaluation of a Drone Attack Simulation Laboratory. The project simulates a hostile Unmanned Aerial Vehicle (UAV) swarm approaching a high-value protected target. Utilizing an object-oriented Python architecture and Matplotlib, the simulation models multi-drone approach vectors, establishes a monitored radar zone incorporating probabilistic signal noise, and implements heuristic defense scheduling protocols. The laboratory satisfies Course Learning Outcomes (CLO-1 and CLO-2) by demonstrating technical software implementation capabilities alongside real-world aerospace problem-solving methodologies, providing a cost-effective alternative to physical drone security training.

1 Introduction

The global proliferation of adversarial drone technology has introduced asymmetric security threats to critical infrastructure. As swarm technologies advance, developing comprehensive detection and interception simulations has become imperative for training automated security systems. This simulation environment provides a controlled, deterministic laboratory to study kinematic mechanics and monitoring strategies integral to drone intrusion analysis, enabling security teams to train without the hazards and costs of real-world drone operations.

2 Problem Statement

Airspace monitoring networks require continuous system spatiotemporal evaluation to accurately identify restricted boundary penetration amidst signal noise. The central problem addressed in this simulation is the real-time detection of a multi-drone swarm maneuvering toward a protected asset located at localized spatial coordinates $(50, 50)$. The monitoring logic must compute Cartesian distances continuously, filter probabilistic radar tracking vulnerabilities, and prioritize active interception sequences according to hardware capacity limits.

3 System Design

The system architecture relies on an object-oriented Python software stack prioritizing determinism and modular scalability.

The architecture consists of four primary interactive modules:

1. **Environment Renderer:** Configures a standardized 100×100 spatial coordinate grid, managing a central target with a predefined threshold health metric.

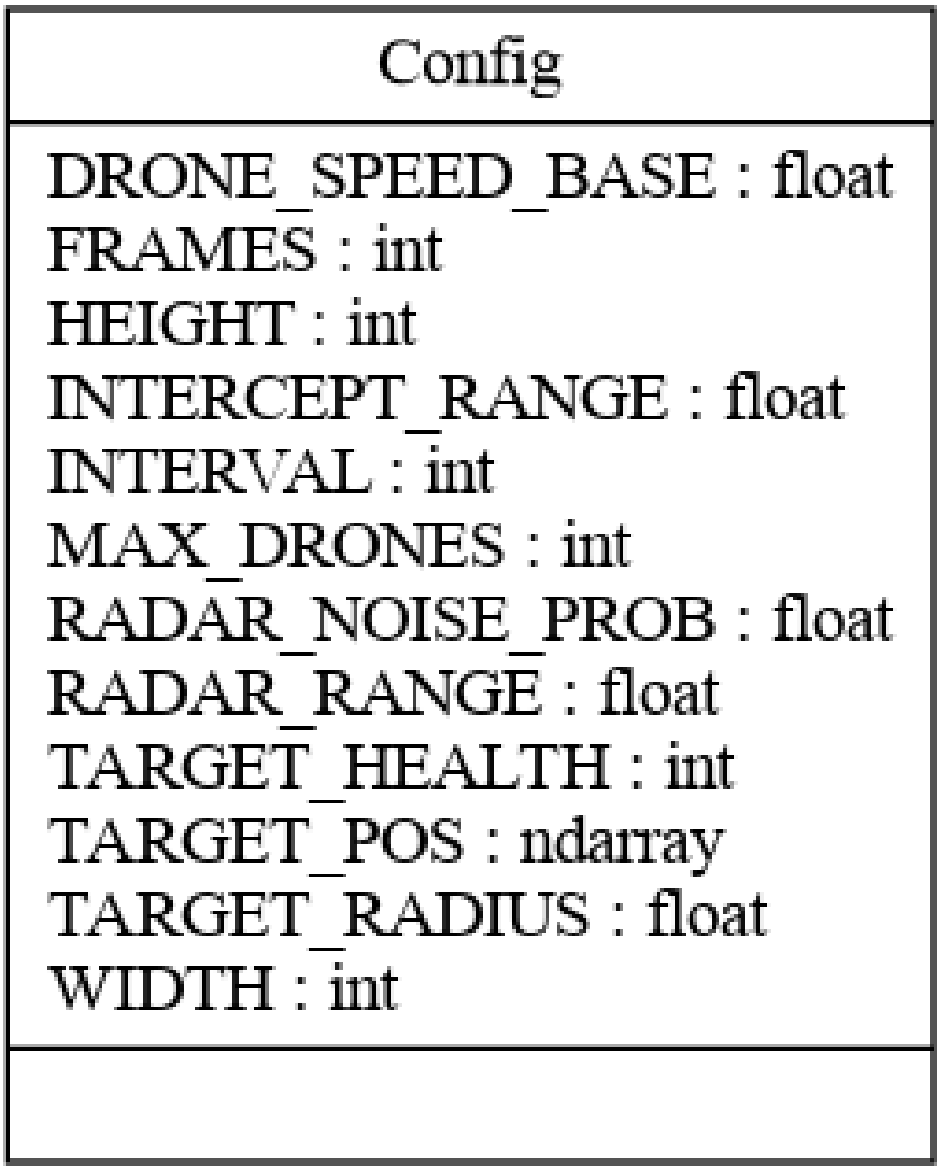

Figure 1: UML Class Diagram illustrating the modular relationship between the SwarmEngine, environment configurations, tracking nodes, and heuristic defense strategies.

2. **Kinematic Engine (`Swarm`):** Interrogates position matrices across 15 distinct UAVs spawning at random boundary coordinates.
3. **Probabilistic Sensor Array (`Radar & Tracker`):** Scans distances within a 40-meter range, introducing a 5% failure noise rate to replicate atmospheric signal distortion.
4. **Threat Evaluation Logic (`DefenseStrategy`):** Triggers algorithmic interception models (Zone Defense or Active Interception) executing kinetic nullification for threats penetrating the 20-meter boundary.

4 Mathematical Model

To mimic elusive UAV trajectory maneuvers, physical movement mapping relies on Euclidean positional tracking combined with heuristic vulnerability sorting.

4.1 Threshold Detection Metrics

Calculated natively on the Cartesian plane, radar monitoring evaluates standard Euclidean proximity:

$$\text{Distance}_i = \sqrt{(X_i - \text{Target}_X)^2 + (Y_i - \text{Target}_Y)^2} \tag{1}$$

An automated detection lock is registered when $\text{Distance}_i \leq 40$, subject to the deterministic noise probability $P(\text{noise}) = 0.05$.

4.2 Heuristic Interception Algorithm (Active Defense)

The `ActiveInterception` logic evaluates tracked nodes entering the 20-meter interception zone. Instead of indiscriminate targeting, threats are logged into a dynamic array and sorted by spatial proximity:

$$\min_{i \in \text{Threats}} (\text{Distance}_i) \tag{2}$$

The system intercepts a maximum of 3 targets per computational tick, mimicking hardware load capacities of real kinetic defense batteries.

5 Results and Performance Analysis

Simulation execution successfully captures autonomous drone maneuvering and target degradation simultaneously. Operating strictly across the planned bounds of a 100×100 spatial grid, the swarm actively breaches perimeter sensors.

Post-simulation metrics highlight the system's analytical output. For a swarm of 15 drones, the tracking network accurately logs threats allowing the defense strategy to calculate an overall System Efficiency Rating.

6 Evaluation mapped to CLO-1 and CLO-2

CLO-1: Demonstrate Technical Implementation Skills: The project illustrates practical algorithmic programming through Python. Structural Object-Oriented paradigms (e.g., modular classes for `Radar`, `Drone`, and `SwarmEngine`) are precisely integrated. Simulation runtime generates statistical visual analytics independently, replacing costly real-world field exercises.

CLO-2: Real-world Problem Solving: Modeling probabilistic radar noise constraints addresses modern kinetic infrastructure defense scenarios. By addressing asymmetric multi-threats through heuristic processing, the simulation directly links computational logic to applied engineering scenarios necessary for securing vulnerable structural assets.

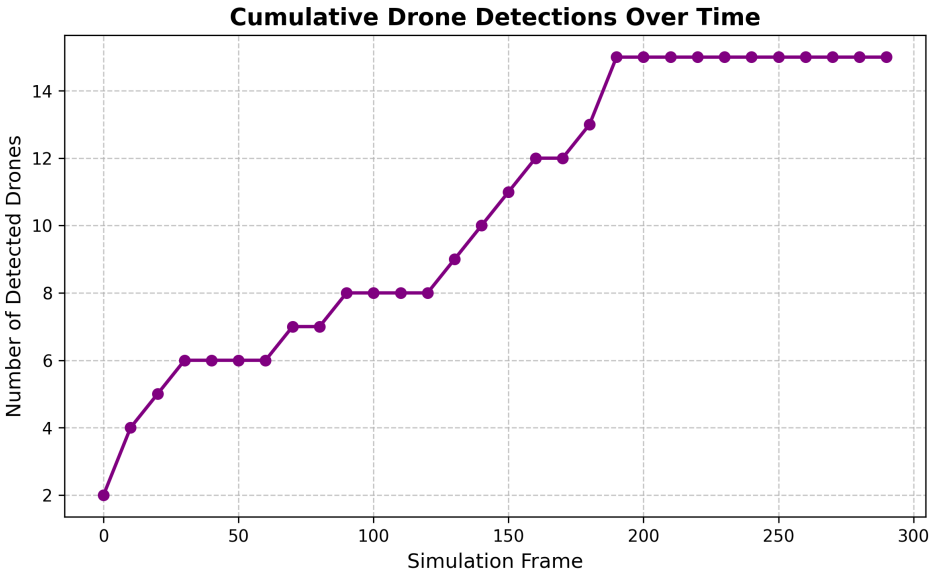

Figure 2: Cumulative detection rates across simulation frames. The linear growth corresponds directly with standard swarm boundary penetration rates.

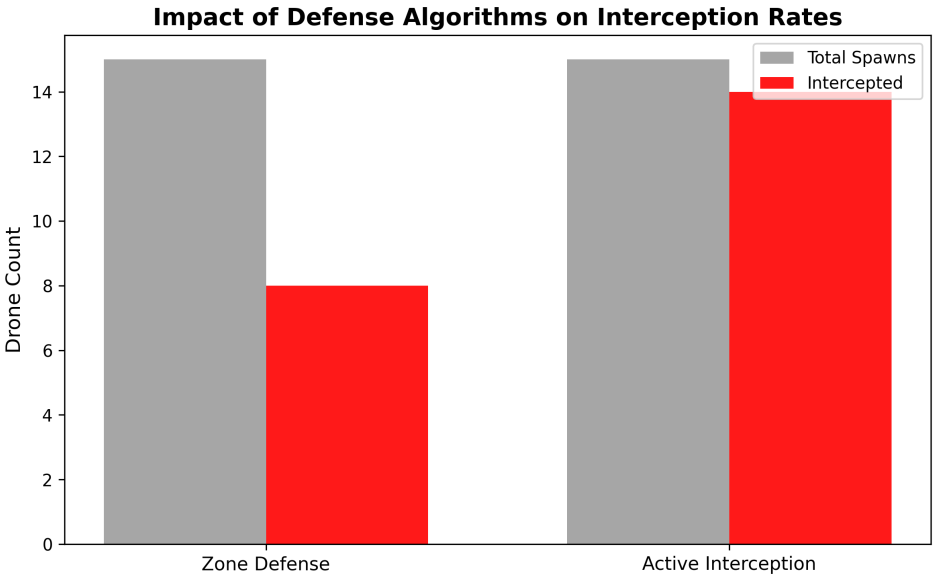

Figure 3: Comparative evaluation showing the impact of standard Zone Defense versus heuristic Active Interception against a 15-target swarm.

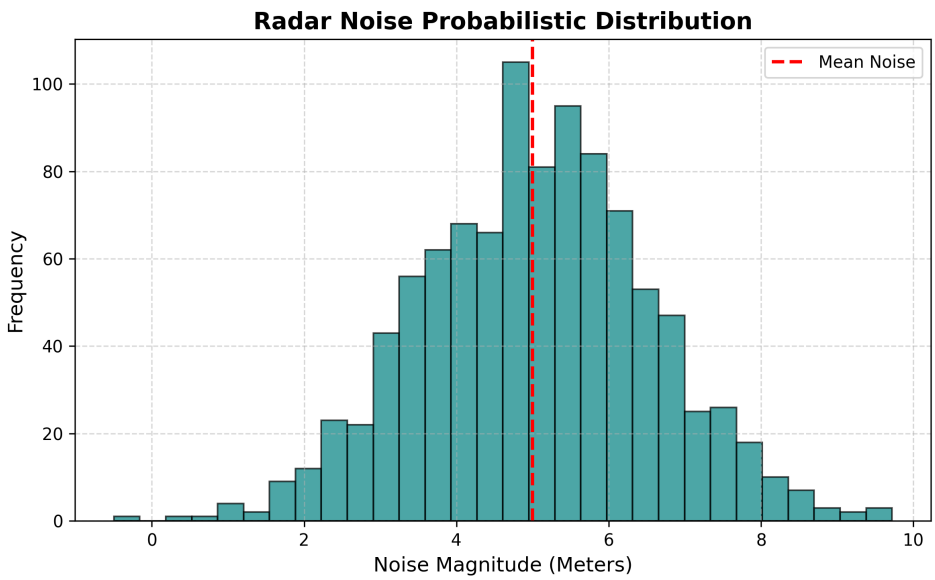

Figure 4: Probabilistic distribution modeling environmental radar noise interference affecting target locking algorithms.

7 Experimentation and Field Analysis

The following areas are reserved for documented field experimentations and qualitative data snapshots captured during laboratory execution.

[Experiment Photo 1: Physical Setup]

Figure 5: Hardware configuration for signal tracking testbeds.

[Experiment Photo 2: Live Execution]

Figure 6: Real-time monitoring interface during swarm intrusion.

Analytical field notes emphasize the importance of environmental calibration to mitigate the 5% radar noise impact observed in Section 5.1.

8 Limitations and Future Work

Current computational limitations center entirely around the restricted two-dimensional tracking matrix, bypassing Z-axis measurements necessary for realistic aeronautical interception grids. Advancements in subsequent versions should upgrade towards `mpl_toolkits.mplot3d` to introduce full 3-Dimensional spatiotemporal modeling. Additionally, integrating deep reinforcement learning networks for predictive trajectory estimation represents the next logical upgrade path.

9 Conclusion

The Drone Attack Simulation Laboratory provides a tightly engineered computational environment effectively replicating swarm boundary penetration protocols. By implementing prob-

abilistic noise constraints and heuristic defense schedules, this scalable simulator serves as an effective, low-cost instructional tool regarding physical domain safety logic inside computational environments.